Synthetic Images from simulated data

Authors

Yi-Hao Chen, Sebastian Heinz, Kelle Cruz, Stephanie T. Douglas

Learning Goals

- Assign WCS astrometry to an image using `astropy.wcs`
- Construct a PSF using `astropy.modeling.model`
- Convolve raw data with PSF using `astropy.convolution`
- Calculate polarization fraction and angle from Stokes I, Q, U data
- Overplot quivers on the image

Keywords

modeling, convolution, coordinates, WCS, FITS, radio astronomy, matplotlib, colorbar

Summary

In this tutorial, we will: load and examine a FITS file, set up astrometry coordinates, prepare a Point Spread Function (PSF), see how to do this without astropy kernels, convolve an image with a PSF, convolve Stokes Q and U images, and calculate polarization angle and fraction for a quiver plot.

```
from astropy.utils.data import download_file
from astropy.io import fits
from astropy import units as u
from astropy.coordinates import SkyCoord
from astropy.wcs import WCS

from astropy.convolution import Gaussian2DKernel
from astropy.modeling.models import Lorentz1D
from astropy.convolution import convolve_fft

import matplotlib.pyplot as plt
import numpy as np

%matplotlib inline
```

1. Load and examine the FITS file

Here we begin with a 2-dimensional data that were stored in FITS format from some simulations. We have Stokes I, Q, and U maps. We we'll first load a FITS file and examine the header.

```
file_i = download_file(
    "http://data.astropy.org/tutorials/synthetic-images/synchrotron_i_lobe_0700_150M
    cache=True,
)
hdulist = fits.open(file_i)
hdulist.info()

hdu = hdulist["NN_EMISSIVITY_I_LOBE_150.0MHZ"]
hdu.header
```

```
Filename: /home/runner/.astropy/cache/download/url/8da27de5aa6b0db633441e82715bedf3/
No.    Name      Ver    Type      Cards   Dimensions   Format
  0  PRIMARY       1 PrimaryHDU       4   ()
  1  NN_EMISSIVITY_I_LOBE_150.0MHZ    1 ImageHDU        23   (1024, 1452)   float64
```

```
XTENSION= 'IMAGE   '           / Image extension
BITPIX  =                  -64 / array data type
NAXIS   =                    2 / number of array dimensions
NAXIS1  =                 1024
NAXIS2  =                 1452
PCOUNT  =                    0 / number of parameters
GCOUNT  =                    1 / number of groups
EXTNAME = 'NN_EMISSIVITY_I_LOBE_150.0MHZ' / extension name
BTYPE   = 'nn_emissivity_i_lobe_150.0MHz'
BUNIT   = 'Jy/arcsec**2'
WCSAXES =                    2
CRPIX1  =                512.0
CRPIX2  =                726.0
CDELT1  = 9.42382812499999E+19
CDELT2  = 9.42382812499999E+19
CUNIT1  = 'cm      '
CUNIT2  = 'cm      '
CTYPE1  = 'LINEAR  '
CTYPE2  = 'LINEAR  '
CRVAL1  =                  0.0
CRVAL2  =                  0.0
LATPOLE =                 90.0
WCSNAME = 'yt      '
```

We can see this FITS file, which was created in yt, has x and y coordinate in physical units (cm). We want to convert it into sky coordinates. Before we proceed, let's find out the range of the data and plot a histogram.

```python
print(hdu.data.max())
print(hdu.data.min())
np.seterr(
    divide="ignore"
)  # suppress the warnings raised by taking log10 of data with zeros
plt.hist(np.log10(hdu.data.flatten()), range=(-3, 2), bins=100);
```

```
129.7177858088622
0.0
```

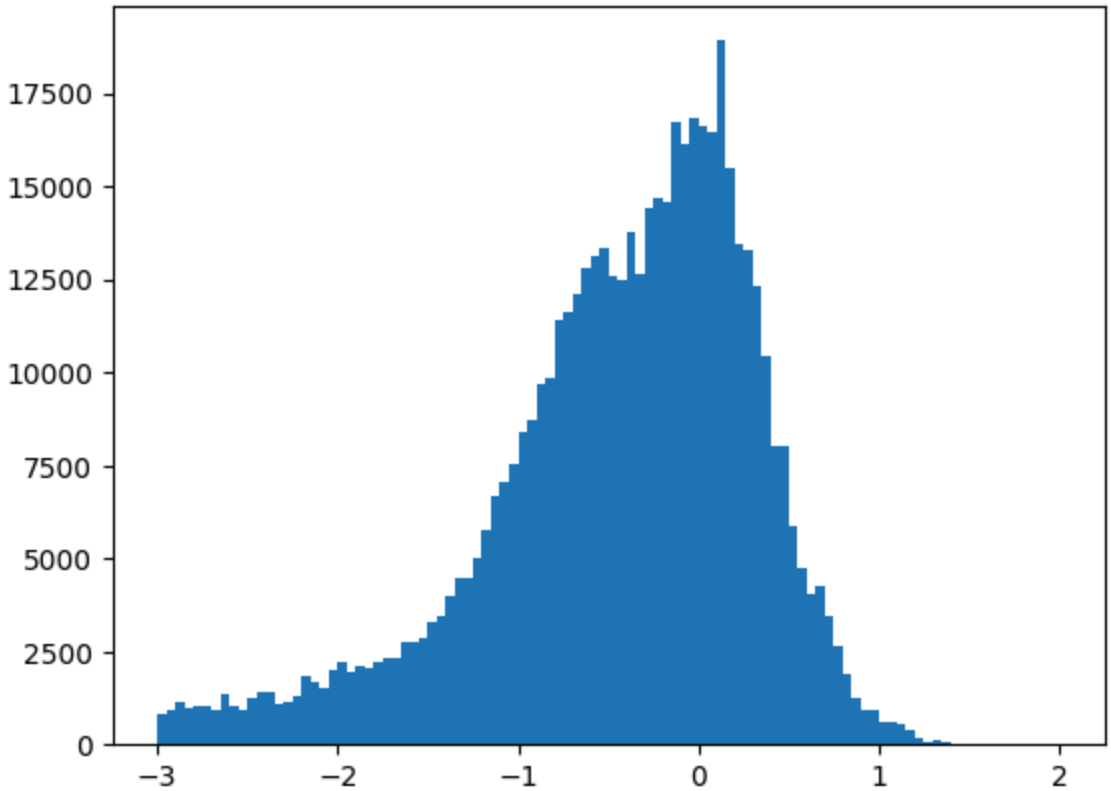

Once we know the range of the data, we can do a visualization with the proper range (`vmin` and `vmax`).

```
fig = plt.figure(figsize=(6, 12))
fig.add_subplot(111)

# We plot it in log-scale and add a small number to avoid nan values.
plt.imshow(np.log10(hdu.data + 1e-3), vmin=-1, vmax=1, origin="lower")
```

```
<matplotlib.image.AxesImage at 0x7f040dc6e150>
```

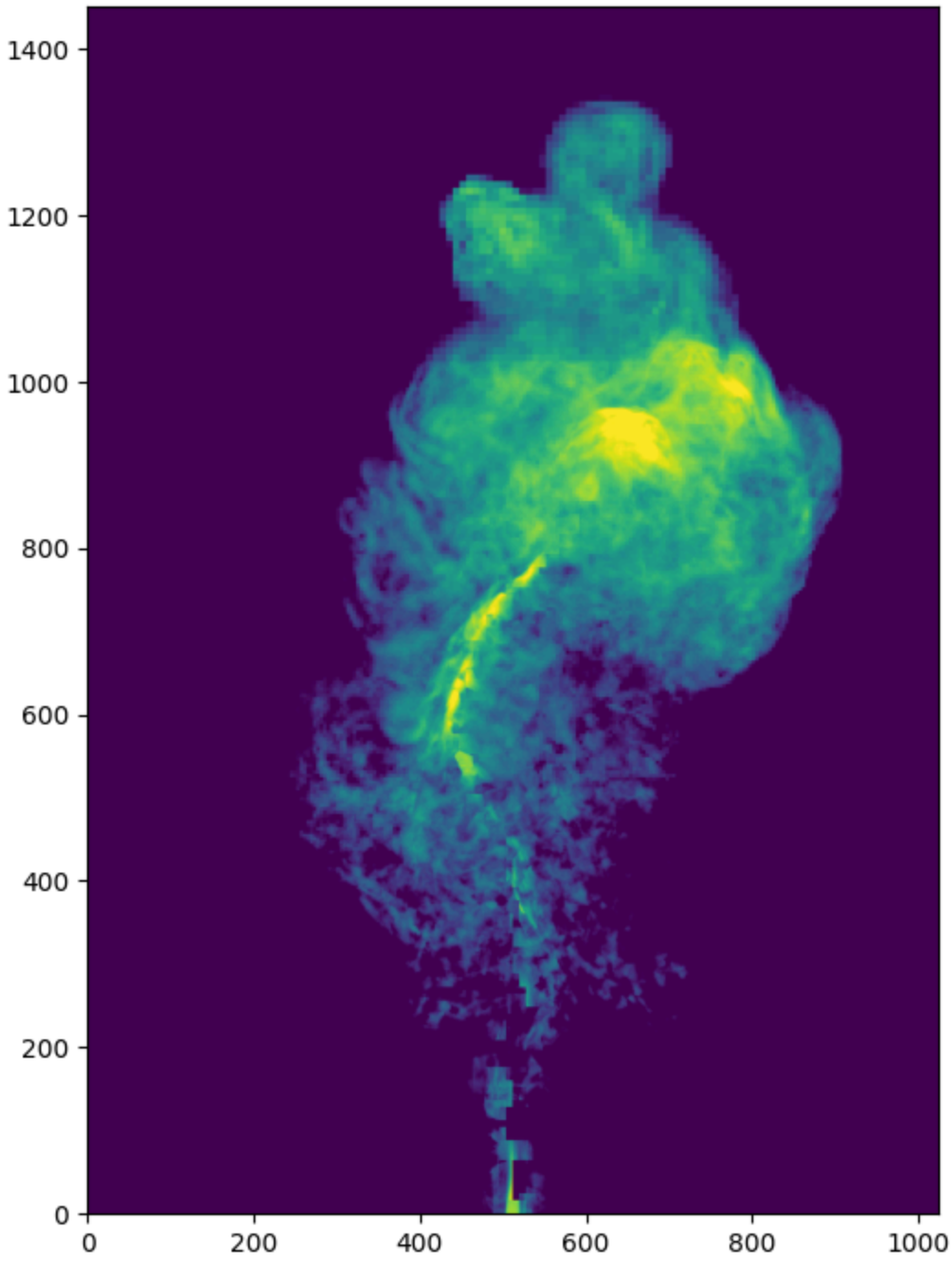

2. Set up astrometry coordinates

From the header, we know that the x and y axes are in centimeter. However, in an observation we usually have RA and Dec. To convert physical units to sky coordinates, we will need to make some assumptions about where the object is located, i.e. the distance to the object and the central RA and Dec.

```
# distance to the object
dist_obj = 200 * u.Mpc

# We have the RA in hh:mm:ss and DEC in dd:mm:ss format.
# We will use Skycoord to convert them into degrees later.
ra_obj = "19h59m28.3566s"
dec_obj = "+40d44m02.096s"
```

Here we convert the pixel scale from cm to degree by dividing the distance to the object.

```
cdelt1 = ((hdu.header["CDELT1"] * u.cm / dist_obj.to("cm")) * u.rad).to("deg")
cdelt2 = ((hdu.header["CDELT2"] * u.cm / dist_obj.to("cm")) * u.rad).to("deg")
print(cdelt1, cdelt2)
```

```
8.74922223983974e-06 deg 8.74922223983974e-06 deg
```

Use `astropy.wcs.WCS` to prepare a FITS header.

```
w = WCS(naxis=2)

# reference pixel coordinate
w.wcs.crpix = [hdu.data.shape[0] / 2, hdu.data.shape[1] / 2]

# sizes of the pixel in degrees
w.wcs.cdelt = [-cdelt1.base, cdelt2.base]

# converting ra and dec into degrees
c = SkyCoord(ra_obj, dec_obj)
w.wcs.crval = [c.ra.deg, c.dec.deg]

# the units of the axes are in degrees
w.wcs.cunit = ["deg", "deg"]
```

Now we can convert the WCS coordinate into header and update the hdu.

```
wcs_header = w.to_header()
hdu.header.update(wcs_header)
```

Let's take a look at the header. `CDELT1`, `CDELT2`, `CUNIT1`, `CUNIT2`, `CRVAL1`, and `CRVAL2` are in sky coordinates now.

```
hdu.header
```

```
XTENSION= 'IMAGE   '           / Image extension
BITPIX  =                  -64 / array data type
NAXIS   =                    2 / number of array dimensions
NAXIS1  =                 1024
NAXIS2  =                 1452
PCOUNT  =                    0 / number of parameters
GCOUNT  =                    1 / number of groups
EXTNAME = 'NN_EMISSIVITY_I_LOBE_150.0MHZ' / extension name
BTYPE   = 'nn_emissivity_i_lobe_150.0MHz'
BUNIT   = 'Jy/arcsec**2'
WCSAXES =                    2 / Number of coordinate axes
CRPIX1  =                726.0 / Pixel coordinate of reference point
CRPIX2  =                512.0 / Pixel coordinate of reference point
CDELT1  = -8.7492222398397E-06 / [deg] Coordinate increment at reference point
CDELT2  =  8.7492222398397E-06 / [deg] Coordinate increment at reference point
CUNIT1  = 'deg     '           / Units of coordinate increment and value
CUNIT2  = 'deg     '           / Units of coordinate increment and value
CTYPE1  = 'LINEAR  '
CTYPE2  = 'LINEAR  '
CRVAL1  =          299.8681525 / [deg] Coordinate value at reference point
CRVAL2  =      40.733915555556 / [deg] Coordinate value at reference point
LATPOLE =                 90.0 / [deg] Native latitude of celestial pole
WCSNAME = 'yt      '
MJDREF  =                  0.0 / [d] MJD of fiducial time
```

```
wcs = WCS(hdu.header)

fig = plt.figure(figsize=(6, 12))
fig.add_subplot(111, projection=wcs)
plt.imshow(np.log10(hdu.data + 1e-3), vmin=-1, vmax=1, origin="lower")
plt.xlabel("RA")
plt.ylabel("Dec")
```

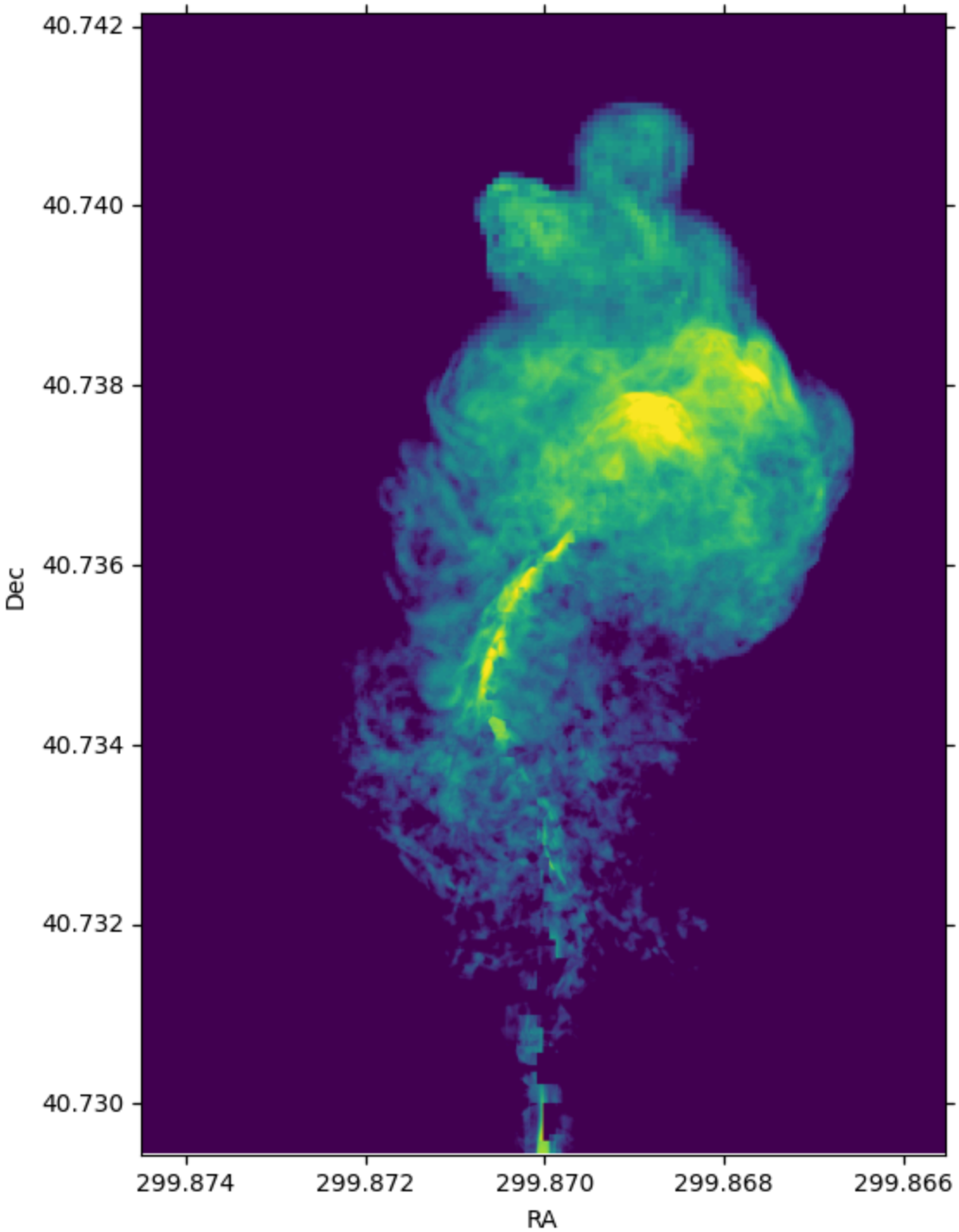

Now we have the sky coordinate for the image!

3. Prepare a Point Spread Function (PSF)

Simple PSFs are included in `astropy.convolution.kernel`. We'll use `astropy.convolution.Gaussian2DKernel` here. First we need to set the telescope resolution. For a 2D Gaussian, we can calculate sigma in pixels by using our pixel scale keyword `cdelt2` from above.

```
# assume our telescope has 1 arcsecond resolution
telescope_resolution = 1 * u.arcsecond

# calculate the sigma in pixels.
# since cdelt is in degrees, we use _.to('deg')
sigma = telescope_resolution.to("deg") / cdelt2
```

```
# By default, the Gaussian kernel will go to 4 sigma
# in each direction
psf = Gaussian2DKernel(sigma)

# let's take a look:
plt.imshow(psf.array.value)
```

```
<matplotlib.image.AxesImage at 0x7f0409bcaf30>
```

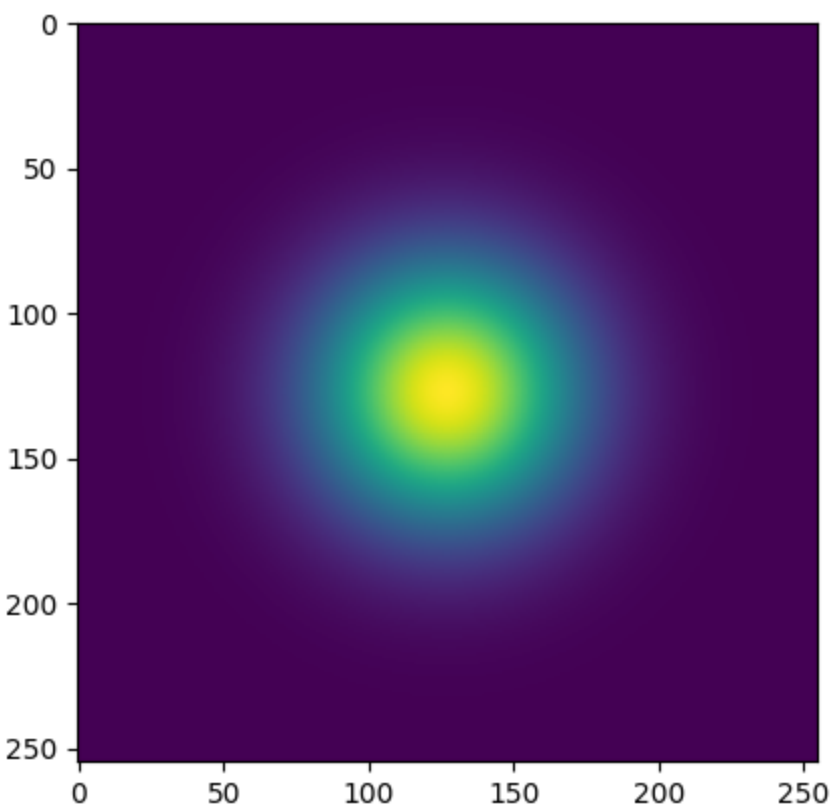

3.a How to do this without astropy kernels

Maybe your PSF is more complicated. Here's an alternative way to do this, using a 2D Lorentzian

```
# set FWHM and psf grid
telescope_resolution = 1 * u.arcsecond
gamma = telescope_resolution.to("deg") / cdelt2
x_grid = np.outer(
    np.linspace(-gamma * 4, gamma * 4, int(8 * gamma)), np.ones(int(8 * gamma))
)
r_grid = np.sqrt(x_grid**2 + np.transpose(x_grid**2))
lorentzian = Lorentz1D(fwhm=2 * gamma)

# extrude a 2D azimuthally symmetric PSF
lorentzian_psf = lorentzian(r_grid)

# normalization
lorentzian_psf /= np.sum(lorentzian_psf)

# let's take a look again:
plt.imshow(lorentzian_psf.value, interpolation="none")
```

```
<matplotlib.image.AxesImage at 0x7f0409bcbc50>
```

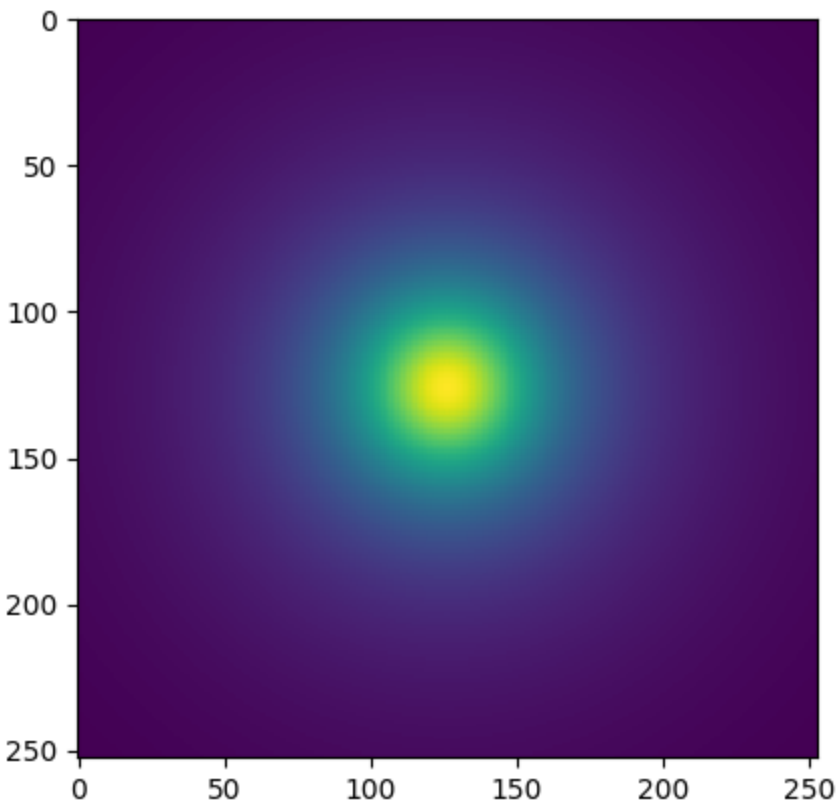

4. Convolve image with PSF

Here we use `astropy.convolution.convolve_fft` to convolve image. This routine uses fourier transform for faster calculation. Especially since our data is 2^n sized, which makes it particually fast. Using a fft, however, causes boundary effects. We'll need to specify how we want to handle the boundary. Here we choose to "wrap" the data, which means making the data periodic.

```
convolved_image = convolve_fft(hdu.data, psf, boundary="wrap")
```

```
# Put a psf at the corner of the image
delta_x_psf = 100  # number of pixels from the edges
xmin, xmax = -psf.shape[1] - delta_x_psf, -delta_x_psf
ymin, ymax = delta_x_psf, delta_x_psf + psf.shape[0]
convolved_image[xmin:xmax, ymin:ymax] = psf.array / psf.array.max() * 10
```

Now let's take a look at the convolved image.

```
wcs = WCS(hdu.header)
fig = plt.figure(figsize=(8, 12))
i_plot = fig.add_subplot(111, projection=wcs)
plt.imshow(
    np.log10(convolved_image + 1e-3), vmin=-1, vmax=1.0, origin="lower"
)  # , cmap=plt.cm.viridis)
plt.xlabel("RA")
plt.ylabel("Dec")
plt.colorbar()
```

```
<matplotlib.colorbar.Colorbar at 0x7f040cc39460>
```

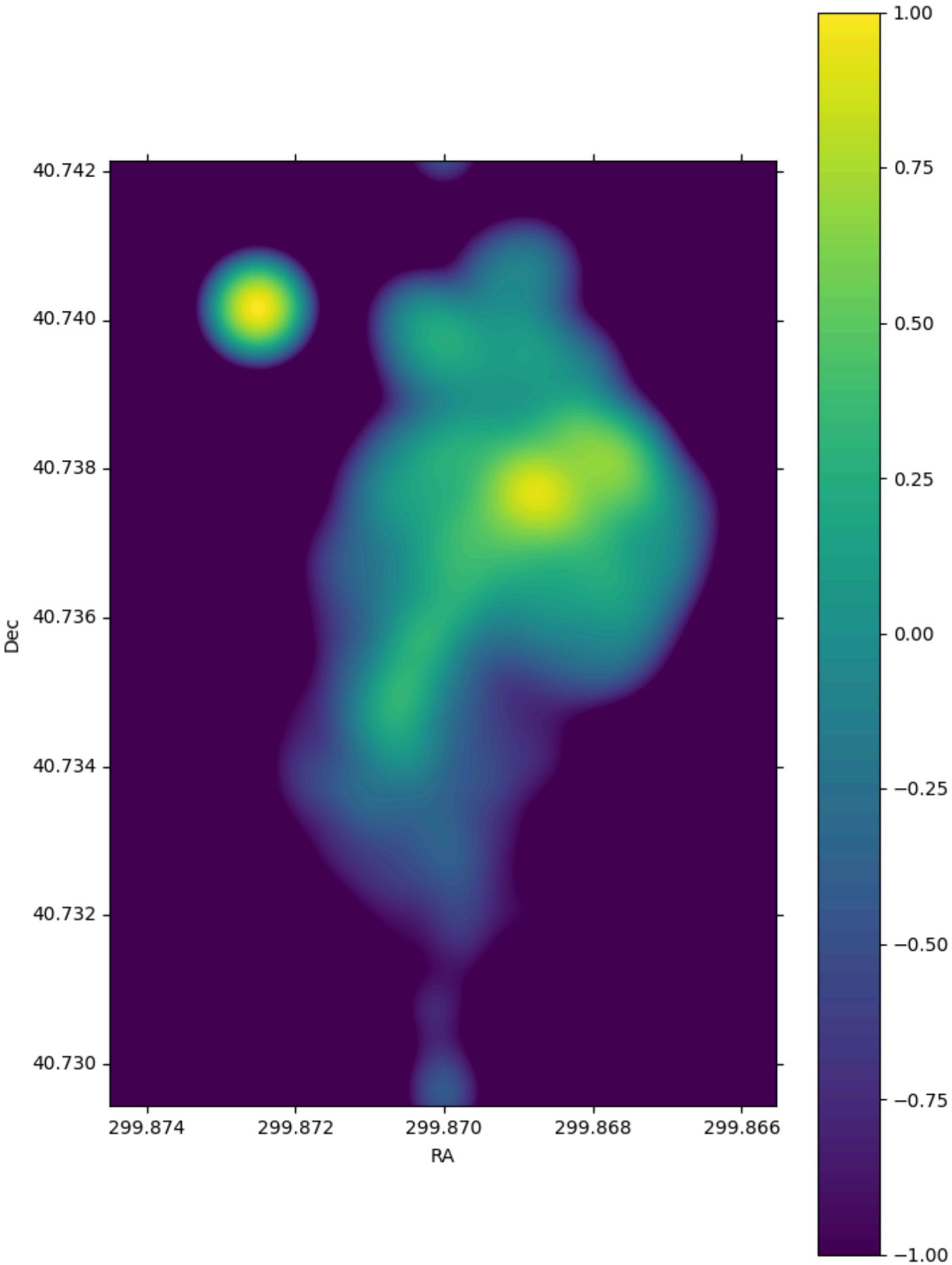
40.742
40.740
40.738
40.736
40.734
40.732
40.730
Dec
299.874
299.872
299.870
299.868
299.866
RA
1.00
0.75
0.50
0.25
0.00
−0.25
−0.50
−0.75
−1.00

5. Convolve Stokes Q and U images

```
hdulist.info()
```

```
Filename: /home/runner/.astropy/cache/download/url/8da27de5aa6b0db633441e82715bedf3/
No.    Name      Ver    Type      Cards   Dimensions   Format
  0  PRIMARY       1 PrimaryHDU       4   ()
  1  NN_EMISSIVITY_I_LOBE_150.0MHZ    1 ImageHDU        24   (1024, 1452)   float64
```

```
file_q = download_file(
    "http://data.astropy.org/tutorials/synthetic-images/synchrotron_q_lobe_0700_150M
    cache=True,
)
hdulist = fits.open(file_q)
hdu_q = hdulist["NN_EMISSIVITY_Q_LOBE_150.0MHZ"]

file_u = download_file(
    "http://data.astropy.org/tutorials/synthetic-images/synchrotron_u_lobe_0700_150M
    cache=True,
)
hdulist = fits.open(file_u)
hdu_u = hdulist["NN_EMISSIVITY_U_LOBE_150.0MHZ"]

# Update the header with the wcs_header we created earlier
hdu_q.header.update(wcs_header)
hdu_u.header.update(wcs_header)

# Convolve the images with the the psf
convolved_image_q = convolve_fft(hdu_q.data, psf, boundary="wrap")
convolved_image_u = convolve_fft(hdu_u.data, psf, boundary="wrap")
```

Let’s plot the Q and U images.

```
wcs = WCS(hdu.header)
fig = plt.figure(figsize=(16, 12))
fig.add_subplot(121, projection=wcs)
plt.imshow(
    convolved_image_q, cmap="seismic", vmin=-0.5, vmax=0.5, origin="lower"
)  # , cmap=plt.cm.viridis)
plt.xlabel("RA")
plt.ylabel("Dec")
plt.colorbar()

fig.add_subplot(122, projection=wcs)
plt.imshow(
    convolved_image_u, cmap="seismic", vmin=-0.5, vmax=0.5, origin="lower"
)  # , cmap=plt.cm.viridis)

plt.xlabel("RA")
plt.ylabel("Dec")
plt.colorbar()
```

```
<matplotlib.colorbar.Colorbar at 0x7f04099ddbb0>
```

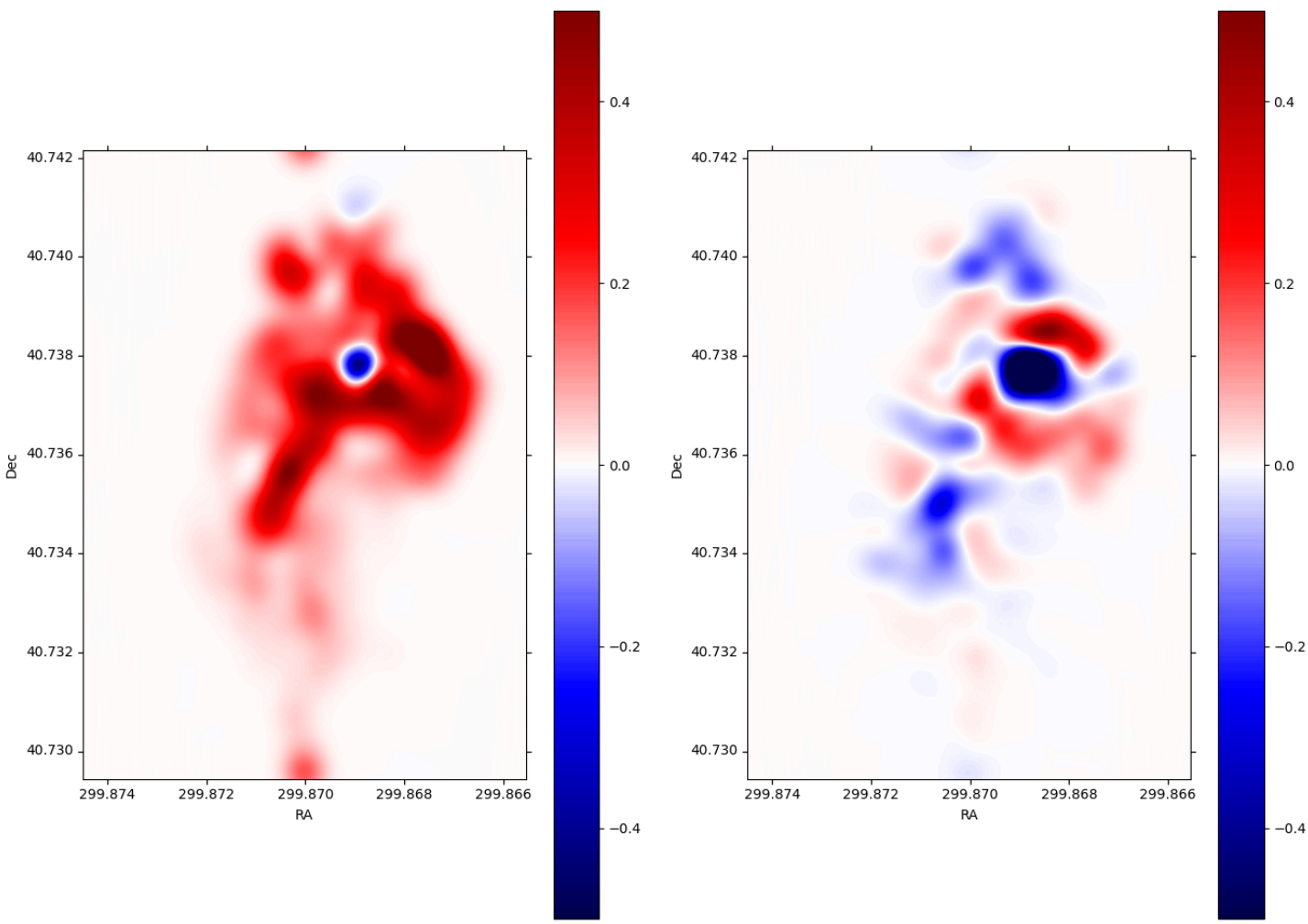

6. Calculate polarization angle and fraction for quiver plot

Note that rotating Stokes Q and I maps requires changing signs of both. Here we assume that the Stokes q and u maps were calculated defining the y/declination axis as vertical, such that Q is positive for polarization vectors along the x/right-ascention axis.

```
# First, we plot the background image
fig = plt.figure(figsize=(8, 16))
i_plot = fig.add_subplot(111, projection=wcs)
i_plot.imshow(np.log10(convolved_image + 1e-3), vmin=-1, vmax=1, origin="lower")

# ranges of the axis
xx0, xx1 = i_plot.get_xlim()
yy0, yy1 = i_plot.get_ylim()

# binning factor
factor = [64, 66]

# re-binned number of points in each axis
nx_new = convolved_image.shape[1] // factor[0]
ny_new = convolved_image.shape[0] // factor[1]

# These are the positions of the quivers
X, Y = np.meshgrid(
    np.linspace(xx0, xx1, nx_new, endpoint=True),
    np.linspace(yy0, yy1, ny_new, endpoint=True),
)

# bin the data
I_bin = convolved_image.reshape(nx_new, factor[0], ny_new, factor[1]).sum(3).sum(1)
Q_bin = convolved_image_q.reshape(nx_new, factor[0], ny_new, factor[1]).sum(3).sum(1
U_bin = convolved_image_u.reshape(nx_new, factor[0], ny_new, factor[1]).sum(3).sum(1

# polarization angle
psi = 0.5 * np.arctan2(U_bin, Q_bin)

# polarization fraction
frac = np.sqrt(Q_bin**2 + U_bin**2) / I_bin

# mask for low signal area
mask = I_bin < 0.1

frac[mask] = 0
psi[mask] = 0

pixX = frac * np.cos(psi)  # X-vector
pixY = frac * np.sin(psi)  # Y-vector

# keyword arguments for quiverplots
quiveropts = dict(headlength=0, headwidth=1, pivot="middle")
i_plot.quiver(X, Y, pixX, pixY, scale=8, **quiveropts)
```

```
<matplotlib.quiver.Quiver at 0x7f040cc050a0>
```

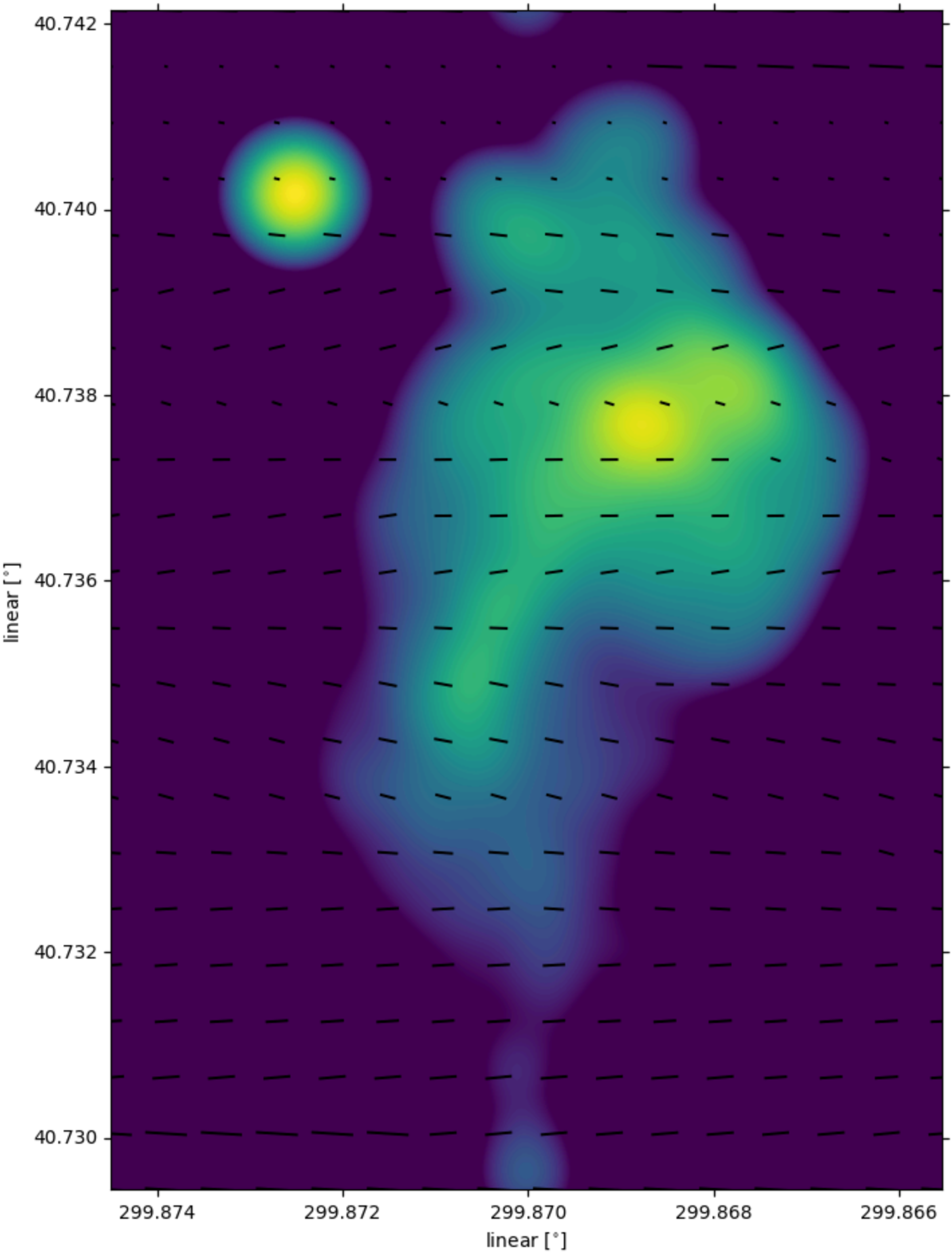
40.742
40.740
40.738
40.736
40.734
40.732
40.730
linear [°]
299.874
299.872
299.870
299.868
299.866
linear [°]

Exercise

Convert the units of the data from Jy/arcsec^2 to Jy/beam

The intensity of the data is given in unit of Jy/arcsec^2. Observational data usually have the intensity unit in Jy/beam. Assuming a beam size or take the psf we created earlier, you can convert the data into Jy/beam.